DJI-ThermalVis: A Visible-Infrared Paired Dataset for Urban Adverse Condition Object Detection and Automatic Annotation Framework

This is the official implementation of the DJI-ThermalVis Dataset.

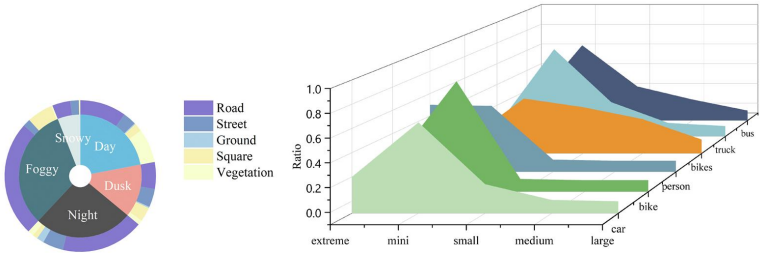

(a) Scene Distribution (b)Size Distribution

Dataset Acquisition

The full dataset will be available after the paper is published.



Example of visible images.

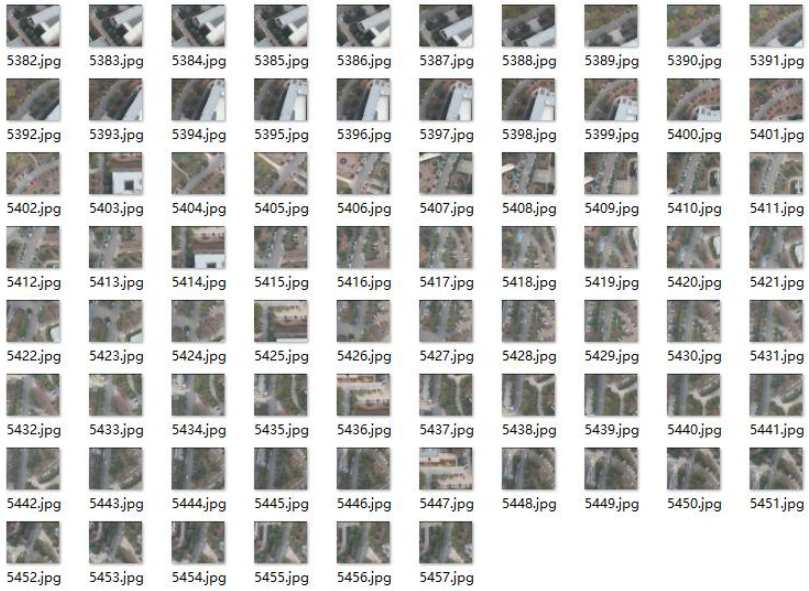

Example of thermal images.

s